Composite Risk Score Map By County

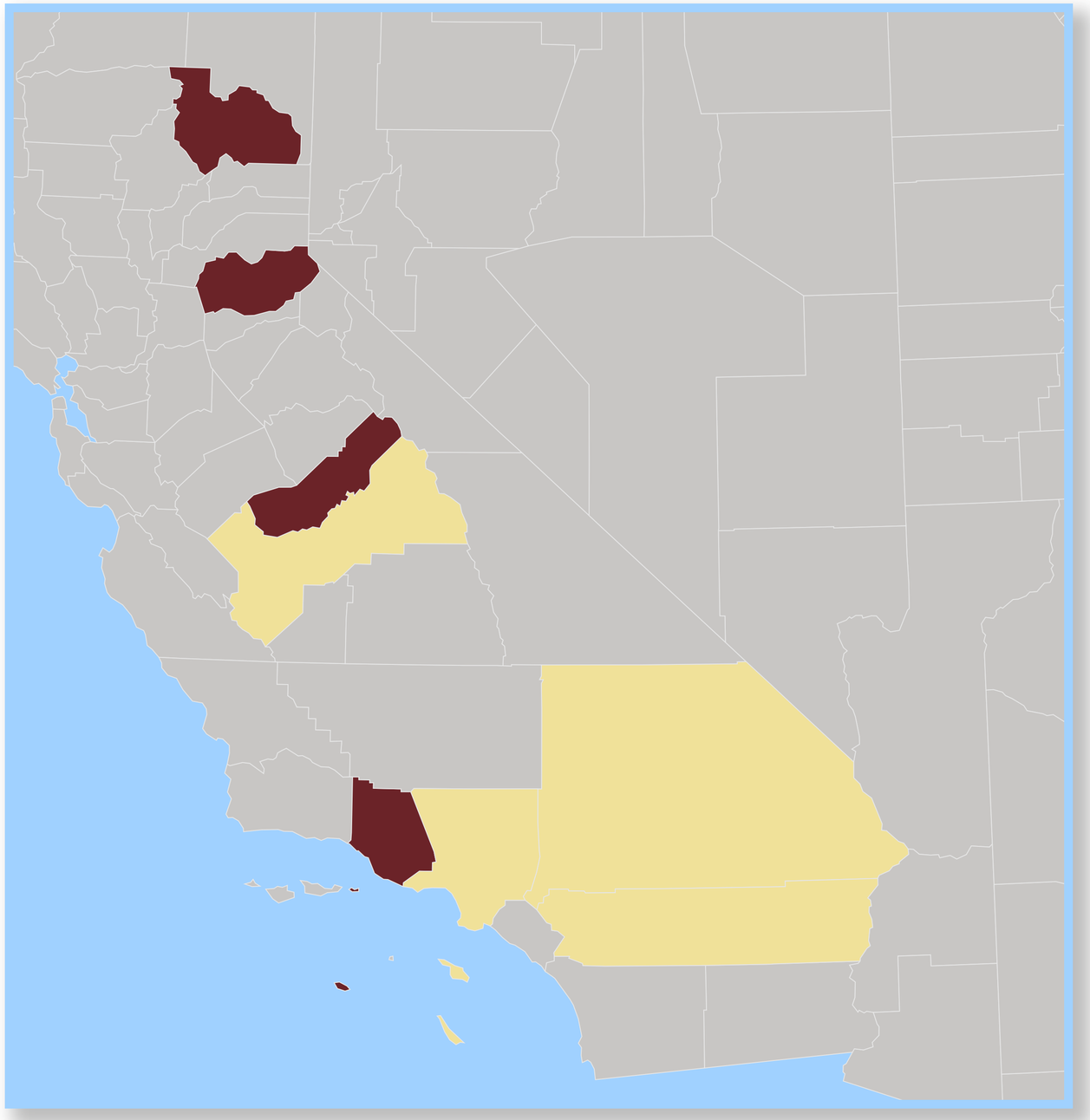

VULNERABI...

- 0.10
- 0.10
- 0.11
- 0.12
- 0.12
- 0.12
- 0.13
- 0.16

Active Fire Incidents Map

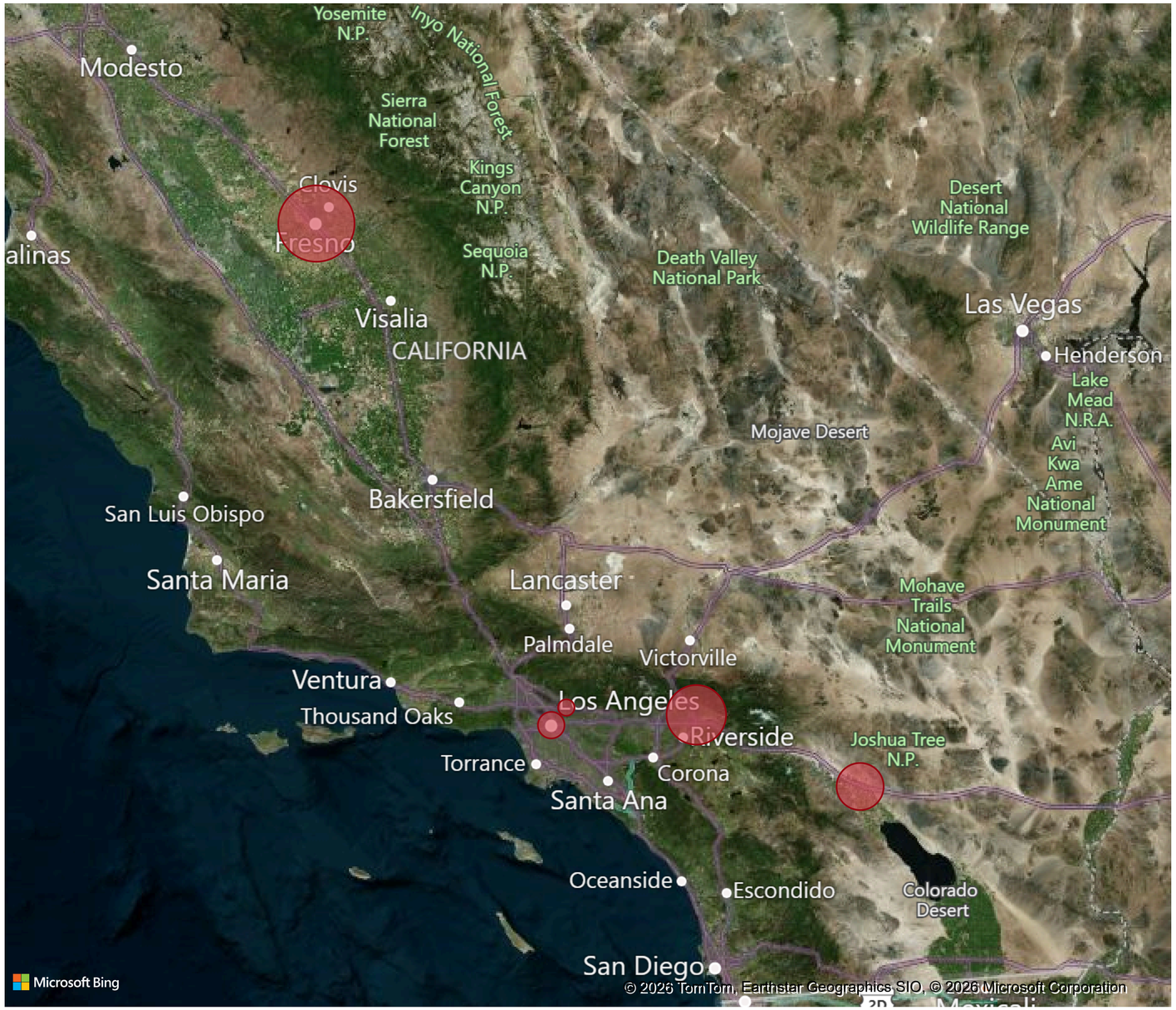

ACTIVE FIRE

- ☐ False
- ■ True

Monthly Fire Trend with AQI Overlay (Dual Axis)

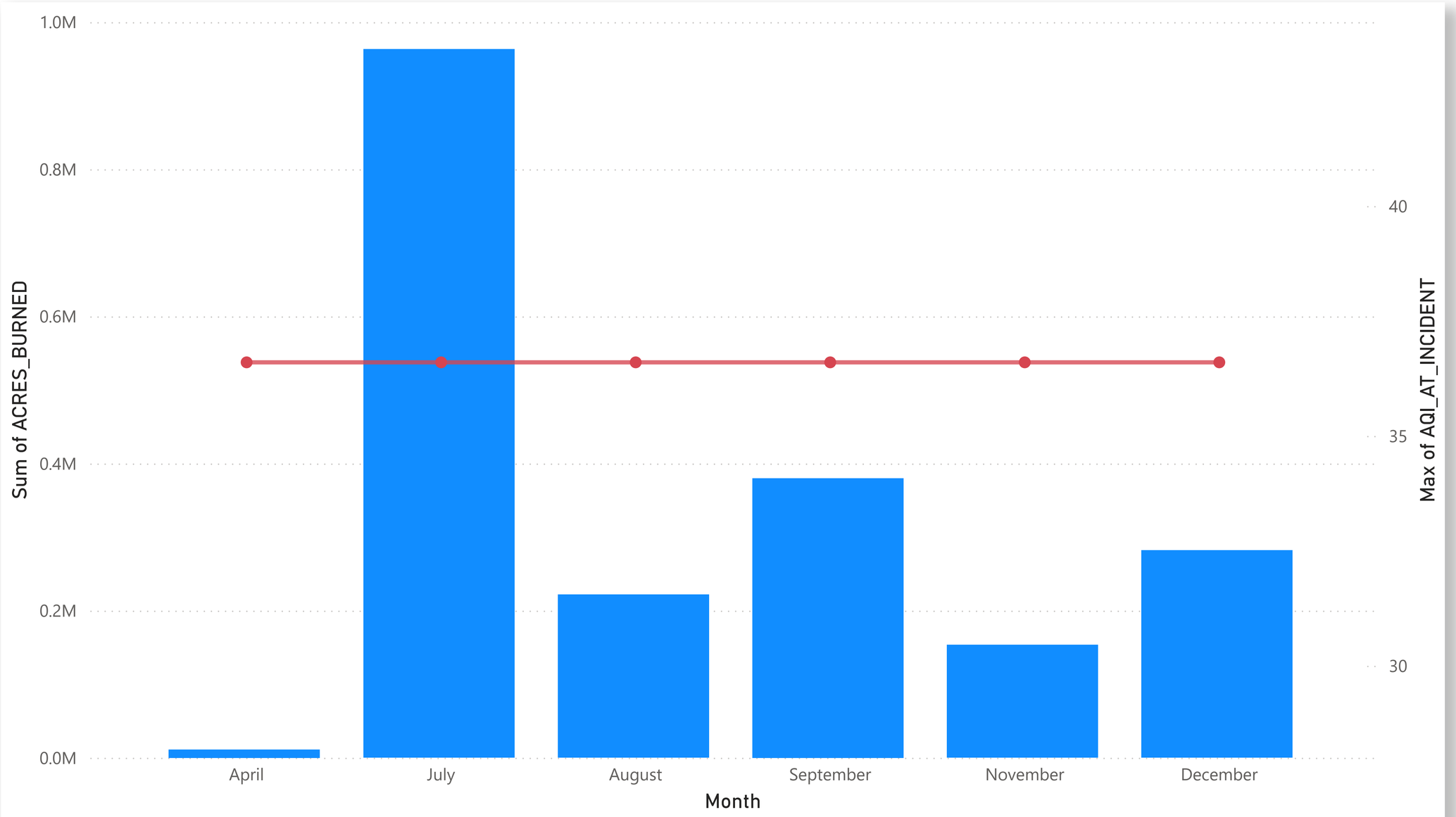

COUNTY

- (Blank)
- Butte
- El Dorado
- Fresno
- Los Angeles
- Madera
- Plumas
- Riverside
- San Bernardino
- Ventura

Top 10 Counties by Composite Risk Score

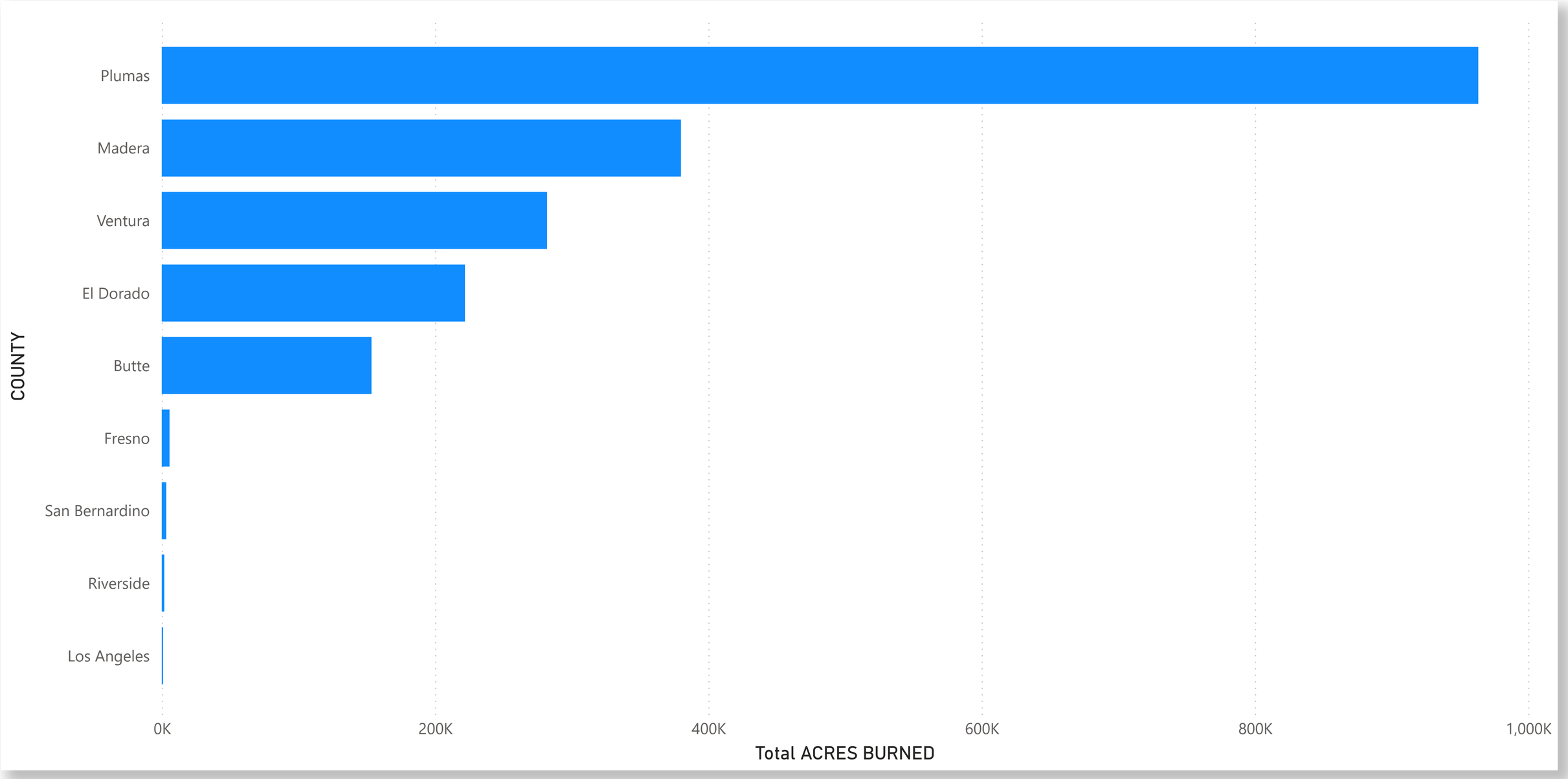

Vulnerability vs Fire Exposure

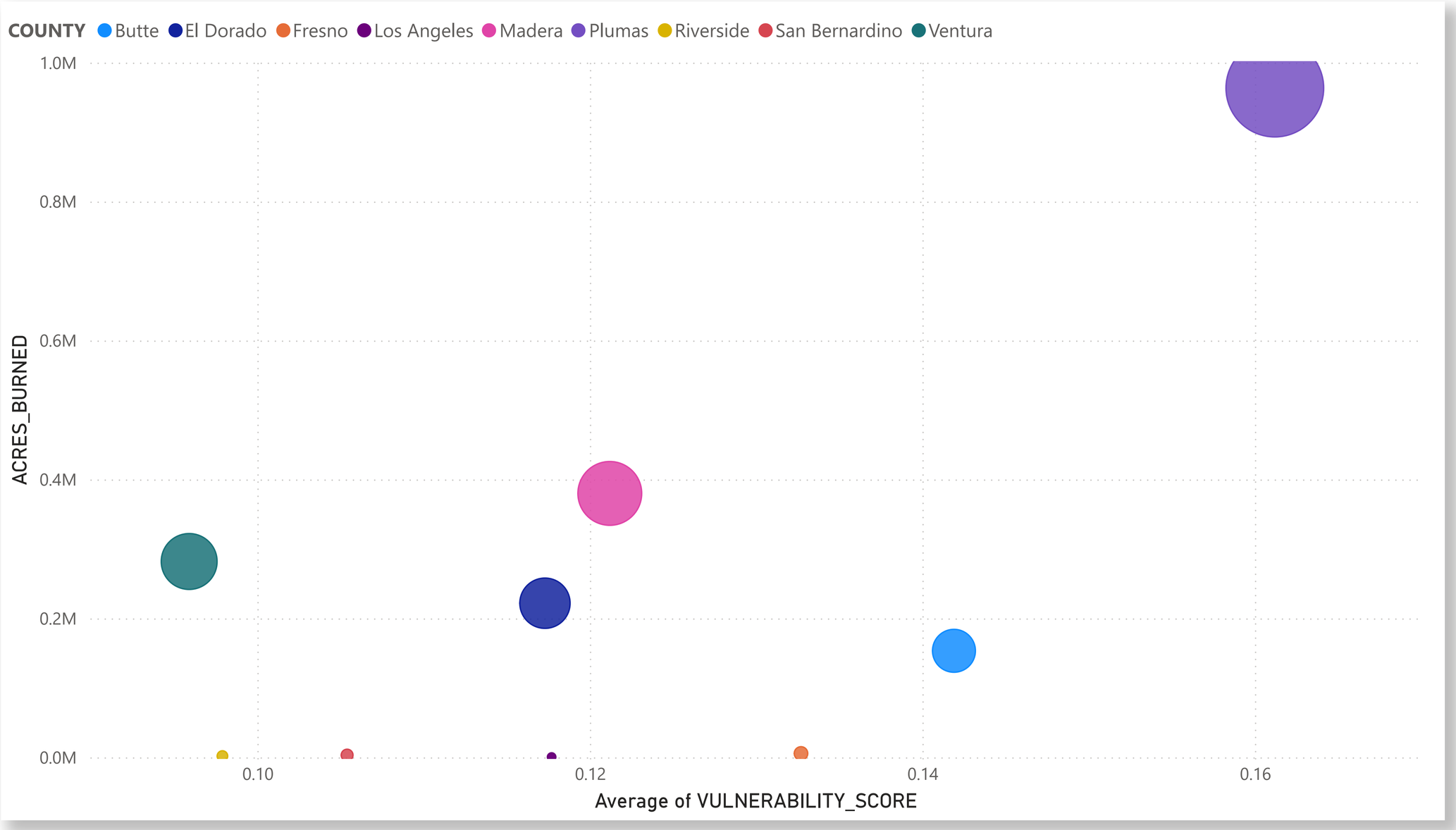

COUNTY

- (Blank)
- Butte
- El Dorado
- Fresno
- Los Angeles
- Madera
- Plumas
- Riverside
- San Bernardino
- Ventura

Executive KPI Summary

20
Total Fires

2.58M
Total ACRES

39.19
Average Air Quality Index

10
# of County At Risk